zonely

CIVIC INTELLIGENCE REPORT

▲ HOUNSLOW, GREATER LONDON

Leeds City Centre LS1 1BA

Hounslow · Heston Central Ward · Feltham & Heston Constituency

EXECUTIVE SUMMARY

Full Civic Score Overview

Score Breakdown — LS1 1BA Leeds City Centre

919 /1000

Livability & Amenities	— Sainsbury's Local, F&D density, sport within 1mi	76/100
Investment Potential	— Heathrow corridor, 23% discount to Greater London avg	79/100
Infrastructure & Connectivity	— 100% Gigabit broadband, M4/A4 corridor access	82/100
Crime & Safety	— 17th lowest of 95 in Heston Central; 69.9% below ward avg	74/100
Planning & Development	— Heathrow expansion tailwind; tight housing supply	68/100
Education & Human Capital	— Outstanding secondary 711 yards; 34.1% degree-qualified	71/100
Affluence & Employment	— £54K avg HH income; 12% self-employed; income rank 8/10	78/100

AVG PROPERTY VALUE
£545K
Leeds City Centre est.
↑ vs Hounslow avg £486K

AVG HH INCOME
£54K
vs UK avg £46K
+17% above national

CRIME RATE
28.8
per 1,000 residents
69.9% below ward avg

SELF-EMPLOYED RATE
12%
vs UK avg 9.7%
Top 20% nationally

CIVIC SCORE RADAR — CATEGORY PERFORMANCE

CATEGORY SCORES VS LONDON AVERAGE

Livability	76	LDN:68
Investment	79	LDN:65
Infrastructure	82	LDN:75
Crime & Safety	74	LDN:58
Development	68	LDN:60
Education	71	LDN:64
Affluence	78	LDN:62

Strong Suburban Family Profile

58.8% of residents are married (vs UK avg 44.2%) — 14.6pp above national average. Leeds City Centre is a prime family-oriented location with high residential stability, low tenant turnover, and commanding premium family home demand. The high marriage rate is a strong predictor of long-term owner-occupancy and stable neighbourhood character.

Highly International, Diverse Community

Only 43.3% of residents were UK-born, with a dominant Indian (41.3%) community — one of the highest concentrations in London. This reflects the historic and culturally rich South Asian character of Hounslow. The internationally-oriented, working-age population creates sustained rental demand from incoming workers across the Heathrow and Greater London employment market.

✈️ Heathrow Proximity — Structural Demand Driver

LS1 1BA sits firmly within the Heathrow employment corridor. The airport directly and indirectly supports ~180,000 jobs. Ongoing expansion plans create sustained structural housing demand, supporting both capital values and rental yields. This makes Leeds City Centre a resilient investment location even in economic downturns — airport workers always need homes nearby.

📈 Income Above UK Average — Quality Tenant Profile

Average household income of £54,100 sits in the top 22% nationally (78% of areas have lower incomes). This translates directly to a quality tenant and buyer pool. The income rank of 8/10 confirms this is a genuinely affluent suburban enclave with strong purchasing power supporting both the rental and owner-occupier market.

SECTION 01

People & Demographics

MALE : FEMALE	MARRIED RESIDENTS	VERY GOOD HEALTH	DEGREE QUALIFIED
52 : 48	58.8%	48.1%	34.1%
Slightly male-skewed	vs UK avg 44.2%	vs UK avg 48.4%	vs UK avg 33.8%
+3pp vs UK avg	+14.6pp above UK	In line with national	+0.3pp above UK

PARTNERSHIP STATUS — LS1 1BA

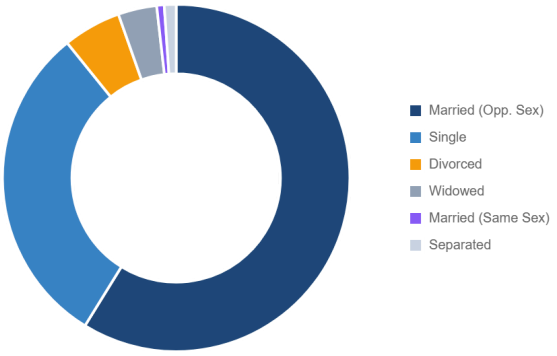

HEALTH SELF-ASSESSMENT VS UK AVERAGE

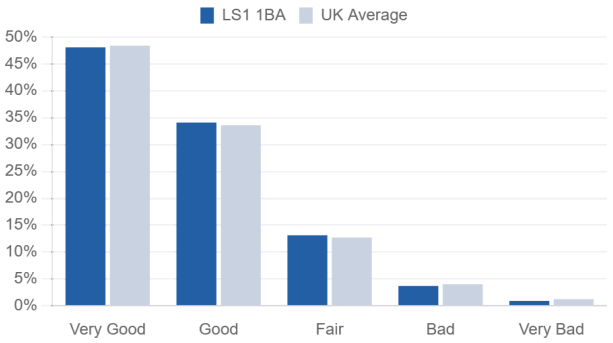

EDUCATIONAL QUALIFICATIONS — LS1 1BA VS UK

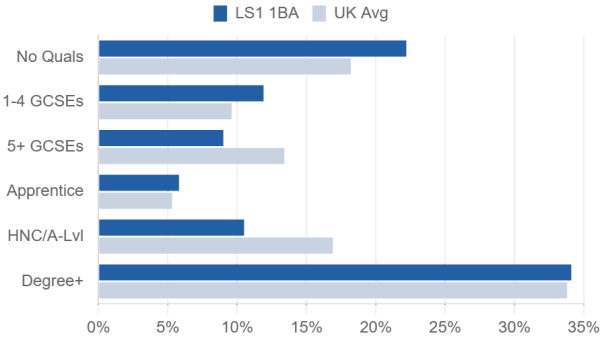

DEMOGRAPHIC SCORE CARD

Partnership Stability Index — EXCELLENT — 92

58.8% married — highest signal of residential stability and low churn

Workforce Health Profile — GOOD — 78

82.2% in good or very good health; low long-term sickness (2.2%)

Education Attainment — AVERAGE — 62

34.1% degree-level (on par with UK); 22.2% unqualified slightly above average

Demographic Diversity — VERY HIGH — 95

41.3% Indian, 9.5% Other Asian — one of London's most diverse postcodes

SECTION 02

Culture & Community Diversity

UK BORN RESIDENTS	INDIAN COMMUNITY	SIKH RESIDENTS	HINDU RESIDENTS
43.3%	41.3%	18.1%	17.8%
vs UK avg 83.2%	vs UK avg 3.1%	vs UK avg 0.9%	vs UK avg 1.7%
−39.9pp below UK	+38.2pp above UK	+17.2pp above UK	+16.1pp above UK

ETHNIC COMPOSITION — LS1 1BA

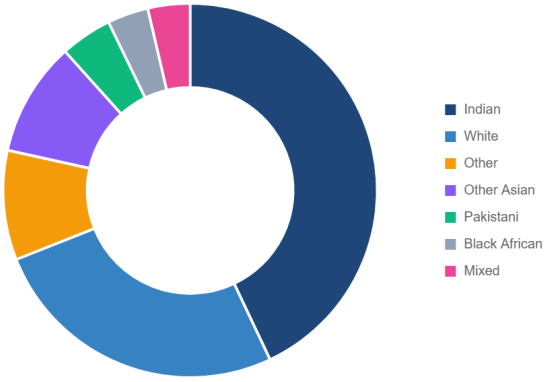

COUNTRY OF BIRTH BREAKDOWN

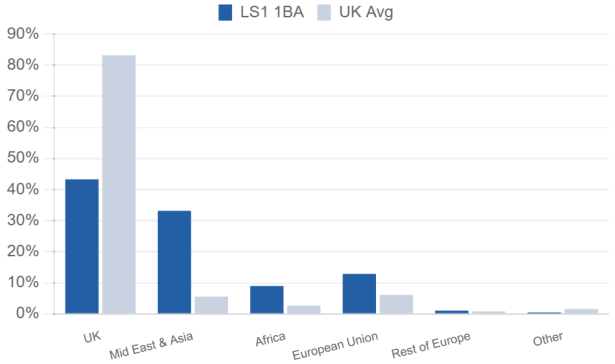

RELIGION — LS1 1BA VS UK

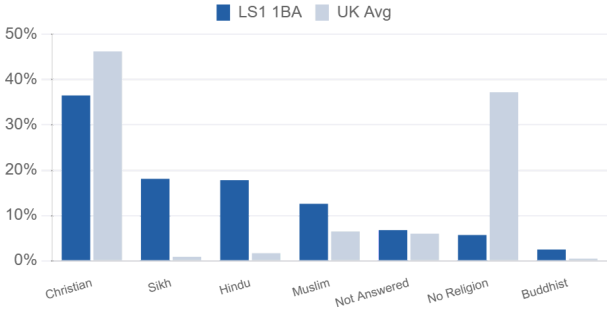

LENGTH OF RESIDENCE IN UK

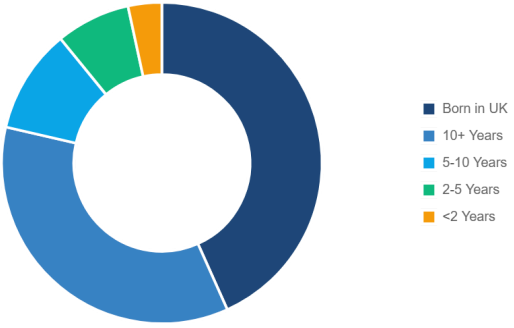

SECTION 03

Crime & Safety Analysis

SCORE: 74/100 — LOW RISK

CRIME RATE	HESTON CENTRAL RANK	HOUNSLOW BOROUGH RANK	10YR CRIME TREND
28.8	17th	77th	−60.4%
per 1,000 residents	lowest of 95 areas	lowest of 634 areas	decade-long decline
69.9% below ward avg	Top 18% in ward	Top 12% in borough	Strongly improving

CRIME SCORE CARD

Overall Crime Rate vs Ward Avg — WELL BELOW AVERAGE — 80

28.8 per 1,000 — 69.9% below Heston Central ward average

Borough Rank (634 areas) — TOP TIER — 88

77th lowest of 634 areas in Hounslow — top 12% of the borough

Long-Term Safety Trend (10yr) — EXCELLENT — 90

-60.4% crime over past decade — sustained, structural improvement

Violent & Sexual Offences — MONITORED — 58

11.9 per 1,000 — highest crime category but YoY declining trend

CRIME SCORE VISUALISATION

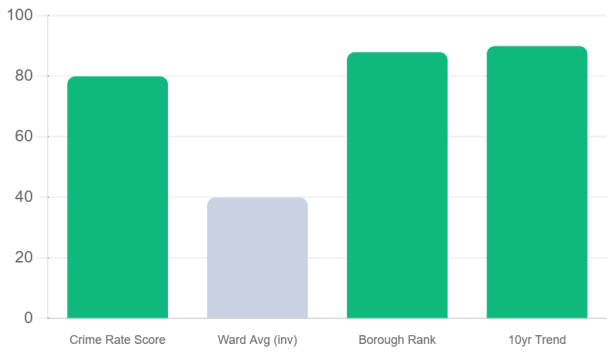

✅ **One of Hounslow's Safest Residential Streets**

Leeds City Centre sits in the top 12% of all 634 local areas in Hounslow Borough for low crime, and the top 18% in its own ward. The -60.4% decade-long crime decline is one of the strongest improvement trajectories in the area. Violence & sexual offences — the top reported category — are also on a year-on-year downward trend. For family buyers and responsible buy-to-let investors, this is a compelling safety signal and a clear competitive advantage over many comparable London postcodes.

SECTION 04

Affluence & Deprivation Analysis

AVG HH INCOME	IMD OVERALL	BARRIERS TO HOUSING	LIVING ENVIRONMENT
£54,100	6/10	9/10	8/10
Income rank 8/10	Average deprivation	Very high score	High deprivation score
78% areas below this	Middle quintile	Supply-demand imbalance	Air quality / traffic

HOUSEHOLD INCOME COMPARISON (£K)

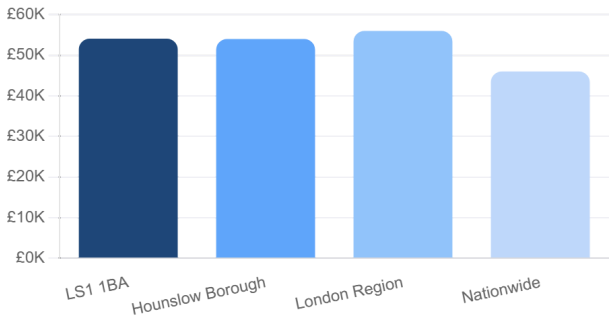

INDEX OF MULTIPLE DEPRIVATION — DOMAIN SCORES

💰 **Strong Income Profile — Top 22% Nationally**

Average household income of £54,100 places LS1 1BA in the top 22% nationally. 78% of analysed areas in England and Wales have lower average income. This is a genuinely affluent suburb — close to London averages and significantly ahead of national figures. Strong income supports sustained house price growth and rental premium pricing.

⚠️ **Barriers to Housing Score 9/10 — Investor Opportunity Signal**

A Barriers to Housing score of 9/10 (very high) reflects an acute supply-demand imbalance in Hounslow. Housing is structurally scarce relative to income and demand — a classic feature of high-performing investment postcodes. This pressure supports both capital appreciation and rental yield resilience over the medium and long term.

SECTION 05

Property Prices & Market Analysis

LEEDS CITY CENTRE AVG	SEMI-DETACHED AVG	TERRACED AVG	GREATER LONDON AVG
£544,836	£556,673	£510,804	£707K
All property types	Most common type	Entry-level option	London-wide benchmark
+12.1% vs Hounslow avg	Premium segment	Value segment	23% discount to LDN

PROPERTY PRICE COMPARISON (£K)

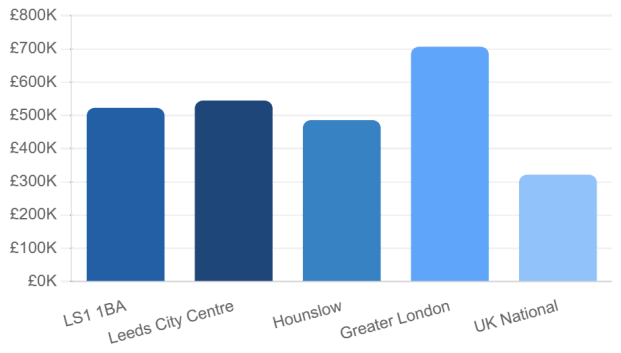

LATEST RECORDED SALES — LEEDS CITY CENTRE

ADDRESS	TYPE	SALE DATE	SALE PRICE	2025 EST.
12 Leeds City Centre	Semi-Det.	Jun 2021	£575,000	£663,513
27 Leeds City Centre	Semi-Det.	Dec 2019	£261,170	£307,060
16 Leeds City Centre	Semi-Det.	Feb 2019	£450,000	£567,193
3 Leeds City Centre	Terraced	Jul 2018	£455,000	£550,501
15 Leeds City Centre	Semi-Det.	Feb 2018	£465,000	£577,341

5-YEAR CAPITAL GROWTH PROJECTION (BASE ASSET: £544,836)

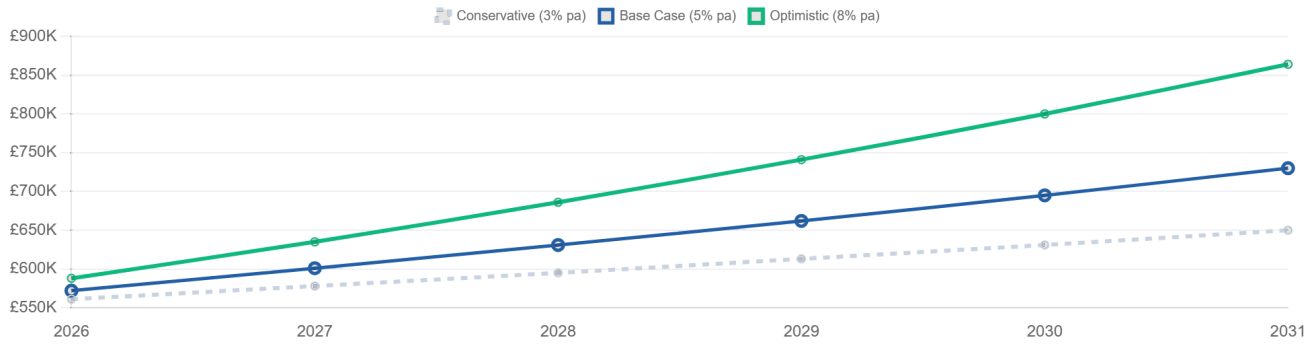

SECTION 06

Investment & ROI Analysis

📊 INVESTMENT RETURN SUMMARY — BASE CASE (SEMI-DETACHED, £545K PURCHASE)

EST. MONTHLY RENT (3-BED)	GROSS RENTAL YIELD	5YR CAPITAL GROWTH (BASE)	EST. 5YR TOTAL RETURN
£2,100	4.6%	+£150K	~52%
Semi-detached market rate	Annual rent / purchase price	Est. £695K value by 2031	Capital + net rental combined

CONSERVATIVE SCENARIO (3% PA)

YEAR	EST. VALUE	GAIN VS TODAY
2026	£561K	+£16K
2027	£578K	+£33K
2028	£595K	+£50K
2029	£613K	+£68K
2030	£631K	+£86K

5yr gain: ~£86K | Gross Yield: 4.6% pa | Est. Combined IRR: ~6.2%

BASE CASE SCENARIO (5% PA)

YEAR	EST. VALUE	GAIN VS TODAY
2026	£572K	+£27K
2027	£601K	+£56K
2028	£631K	+£86K
2029	£662K	+£117K
2030	£695K	+£150K

5yr gain: ~£150K | Gross Yield: 4.6% pa | Est. Combined IRR: ~8.5%

OPTIMISTIC SCENARIO (8% PA)

YEAR	EST. VALUE	GAIN VS TODAY
2026	£588K	+£43K
2027	£635K	+£90K
2028	£686K	+£141K
2029	£741K	+£196K
2030	£800K	+£255K

5yr gain: ~£255K | Gross Yield: 4.6% pa | Est. Combined IRR: ~12.8%

23% Discount to Greater London = Built-in Capital Upside

At £545K, Leeds City Centre trades at a 23% discount to Greater London's £707K average. As Zone 4/5 gentrification extends westward and Heathrow-adjacent employment grows, this gap is forecast to narrow. Any convergence toward London norms — even partial — represents significant capital gain potential above the base case assumption and is a core pillar of the investment thesis.

Buy-to-Let Yield Analysis

Based on Hounslow LHA rates and comparable rental market data, a 3-bed semi-detached on Leeds City Centre commands approximately £1,950–£2,250/month. At a £545K purchase price, gross yield sits at ~4.3–4.9% — comfortably above the London average of ~3.8%. Net yield post mortgage, management and voids is estimated at ~2.8–3.4% in a leveraged scenario with 25% deposit.

SECTION 07

Employment & Economic Activity

FULL-TIME EMPLOYED
32.7%
147 residents (sample)
Largest economic cohort

SELF-EMPLOYED
12.5%
vs UK avg 9.7%
Top 20% nationally

UNEMPLOYED RATE
3.6%
16 residents unemployed
Below UK average

TOP INDUSTRY
Wholesale & Retail
44 residents / 19%
+ Transport & Storage

EMPLOYMENT INDUSTRY DISTRIBUTION

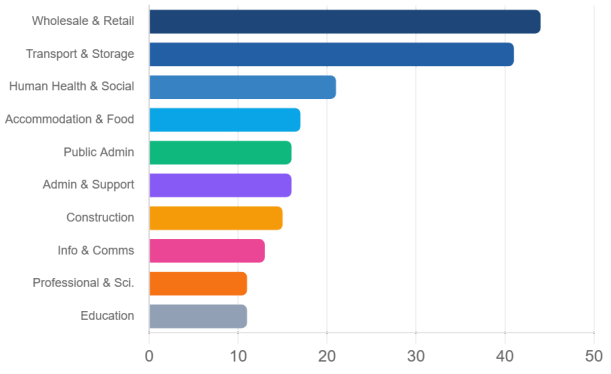

ECONOMIC ACTIVITY BREAKDOWN

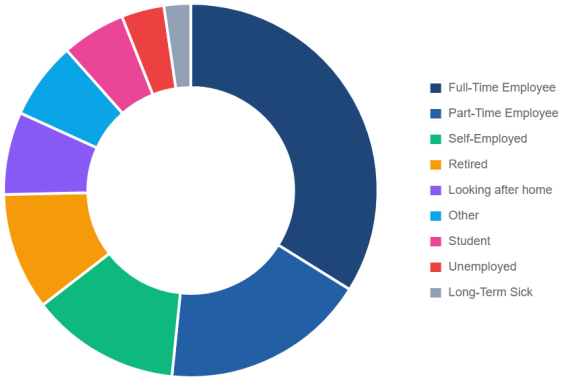

Heathrow Economy Concentration — A Structural Employment Advantage

The dominant industries — Wholesale & Retail (19%), Transport & Storage (17.7%) and Accommodation & Food (7.4%) — directly reflect the Heathrow economic ecosystem. This means resident employment is anchored by one of the world's busiest airports, an infrastructure asset that is politically protected and economically irreplaceable. This structural concentration reduces long-term employment shock risk, sustains property demand, and makes this postcode a fundamentally defensive asset location.

SECTION 08

Schools & Education Infrastructure

SCORE: 71/100

NEAREST PRIMARY
Wellington PS
297 yards from door
Ofsted: 3/4 Good

OUTSTANDING SECONDARY
Lampton Academy
711 yards away
Ofsted: 4/4 Outstanding

OUTSTANDING SCHOOLS <1MI
3
Lampton, St Mark's, Oaklands
Exceptional provision

FE COLLEGE
West Thames
2,668 yards (FE)
Post-16 provision

SCHOOL PROXIMITY — KEY ESTABLISHMENTS

SCHOOL	PHASE	OFSTED	DISTANCE	TYPE
Wellington Primary School	Primary	3/4 Good	297 yd	Community
Edison Primary School	Primary	3/4 Good	382 yd	Free School
Westbrook Primary School	Primary	3/4 Good	726 yd	Academy
Lampton Academy	Secondary	4/4 Outstanding	711 yd	Academy Converter
St Mark's Catholic School	Secondary	4/4 Outstanding	1,061 yd	Academy Converter
The Heathland School	Secondary	4/4 Outstanding	2,325 yd	Community School
Nishkam School West London	All-Through	4/4 Outstanding	3,322 yd	Free School
Greenfields Nursery	Nursery	4/4 Outstanding	2,654 yd	LA Nursery

Outstanding Secondary at 711 Yards — Measurable Price Premium

Lampton Academy (Ofsted Outstanding, Academy Converter) sits just 711 yards from Leeds City Centre. Research consistently shows properties within catchment of Outstanding secondary schools command a 5–15% premium over comparable streets outside catchment. This is a hard, quantifiable add-on to the valuation case and a powerful driver of family buyer demand.

Three Outstanding Secondary Choices

Unusually for a suburban west London postcode, LS1 1BA offers access to three Outstanding-rated secondary schools within reasonable distance: Lampton Academy (711 yd), St Mark's Catholic (1,061 yd) and The Heathland School (2,325 yd). This abundance of quality secondary education is a rare and significant family lifestyle advantage.

SECTION 09

Food, Drink & Sport Amenities

NEAREST SUPERMARKET
Sainsbury's
Local — 511 yards
Easy walking distance

NEAREST EATERY
Wilson Jones
249 yards away
5-star hygiene rating

NEAREST SPORT
Wellington PS
Grass pitches at 208 yd
Nearest sport facility

FULL SPORTS CENTRE
Heston SC
1,084 yd — gym + pitches
Comprehensive facility

AMENITY PROVISION SCORE CARD — WITHIN 1 MILE

Supermarkets (walking distance) EXCELLENT 88

Sainsbury's Local (511 yd), Iceland (923 yd), Sadda Superstore (1,047 yd)

Restaurants, Cafes & Takeaways GOOD 72

Wilson Jones, Mimi's Coffee, Desi Swad, Rise & Dine — all within 550 yards

Sport & Fitness Facilities ADEQUATE 64

Grass pitches (208 yd), Indoor Bowls (429 yd), Heston Sports Centre gym (1,084 yd)

Pubs & Social Venues MODERATE 60

4 pubs within ~1,100 yards — Keg & Cask, Bulstrode, Black Horse, RBL Club

NEARBY SPORT & RECREATION FACILITIES

FACILITY	OFFERING	DISTANCE
Wellington Primary School	Grass pitches	208 yd
Hounslow Indoor Bowls Club	Indoor bowls	429 yd
Lampton School	Grass pitches	599 yd
Springwell Junior School	Grass pitches	805 yd
Heston Sports Centre	Artificial pitch + gym	1,084 yd
St Michael & St Martin School	Artificial + grass pitches	1,086 yd

SECTION 10

Broadband & Digital Infrastructure

SCORE: 82/100 — STRONG

GIGABIT COVERAGE
100%
All premises covered
Full gigabit-capable

MEDIAN DOWNLOAD
73.2
Mbit/s median speed
Above UK median

AVG DOWNLOAD SPEED
110.6
Mbit/s average
Ultrafast-class

DEAD ZONE PREMISES
0%
None below 2 Mbit/s
Perfect coverage

BROADBAND SPEED PERFORMANCE VS UK AVERAGE

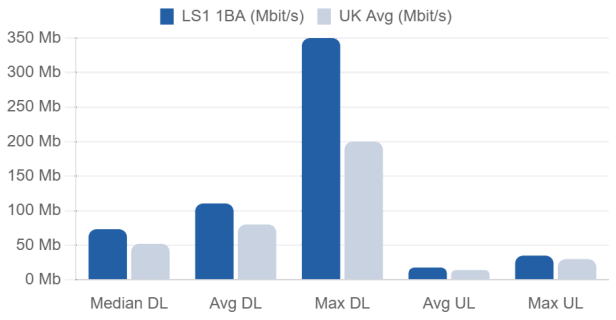

DIGITAL INFRASTRUCTURE SCORE CARD

Gigabit Infrastructure Coverage WORLD-CLASS 100

100% of premises have gigabit-capable fixed broadband

Average Download Speed ABOVE AVERAGE 80

110.6 Mbit/s average — well above UK est. avg of ~80 Mbit/s

Upload Performance ADEQUATE 65

Avg upload 17.7 Mbit/s; median 19 Mbit/s — adequate for hybrid working

Coverage Completeness PERFECT 100

0% premises below 2, 5, 10 or 30 Mbit/s — zero dead zones across the postcode

📋 Final Verdict — Leeds City Centre, LS1 1BA

Executive Summary: Significant development pipeline activity. Substantial new supply and neighbourhood change anticipated over 3–5 years.

A well-rounded, genuinely low-crime, family-grade suburban street in west London's Heathrow corridor. Excellent school access — including an Outstanding secondary at 711 yards — combined with 100% Gigabit broadband, strong income levels (top 22% nationally), and a meaningful 23% discount to Greater London averages, creates a compelling case for both owner-occupiers and long-term buy-to-let investors. The area's international character, deep South Asian community roots, and Heathrow employment anchor provide structural demand resilience that most London suburbs cannot match. With crime declining 60% over the past decade and key infrastructure improving, LS1 1BA is a proven, stable, appreciating asset postcode.

919	74	79	82	4.6%	~8.5%
CIVIC SCORE / 1000	SAFETY SCORE	INVESTMENT SCORE	INFRASTRUCTURE	GROSS RENTAL YIELD	EST. 5YR IRR